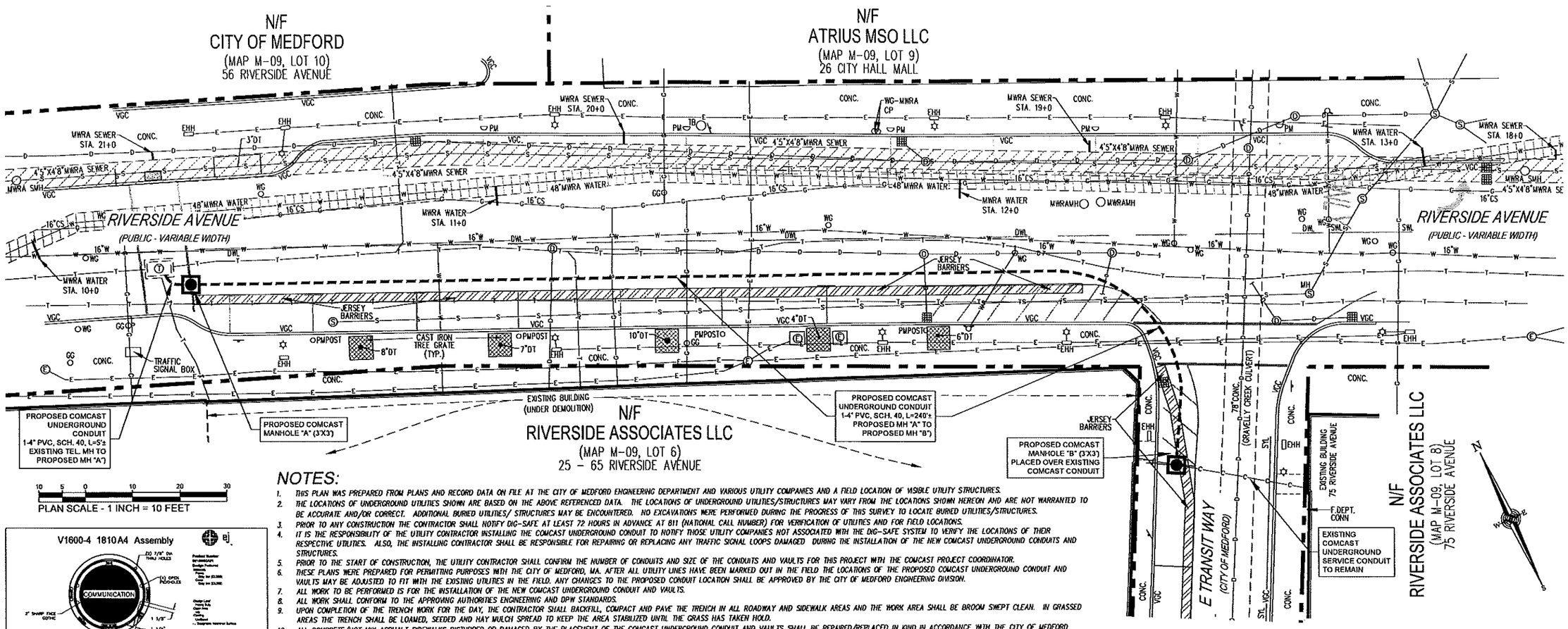


PLAN SCALE - 1 INCH = 10 FEET

NOTES:

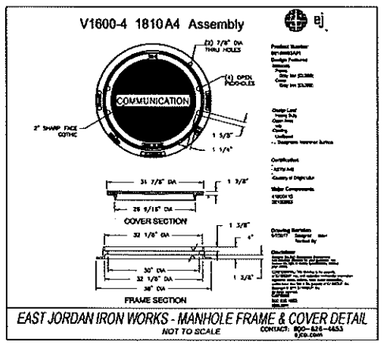
1. THIS PLAN WAS PREPARED FROM PLANS AND RECORD DATA ON FILE AT THE CITY OF MEDFORD ENGINEERING DEPARTMENT AND VARIOUS UTILITY COMPANIES AND A FIELD LOCATION OF VISIBLE UTILITY STRUCTURES.
2. THE LOCATIONS OF UNDERGROUND UTILITIES SHOWN ARE BASED ON THE ABOVE REFERENCED DATA. THE LOCATIONS OF UNDERGROUND UTILITIES/STRUCTURES MAY VARY FROM THE LOCATIONS SHOWN HEREON AND ARE NOT WARRANTED TO BE ACCURATE AND/OR CORRECT. ADDITIONAL BURIED UTILITIES/ STRUCTURES MAY BE ENCOUNTERED. NO EXCAVATIONS WERE PERFORMED DURING THE PROGRESS OF THIS SURVEY TO LOCATE BURIED UTILITIES/STRUCTURES.
3. PRIOR TO ANY CONSTRUCTION THE CONTRACTOR SHALL NOTIFY DIG-SAFE AT LEAST 72 HOURS IN ADVANCE AT 811 (NATIONAL CALL NUMBER) FOR VERIFICATION OF UTILITIES AND FOR FIELD LOCATIONS.
4. IT IS THE RESPONSIBILITY OF THE UTILITY CONTRACTOR INSTALLING THE COMCAST UNDERGROUND CONDUIT TO NOTIFY THOSE UTILITY COMPANIES NOT ASSOCIATED WITH THE DIG-SAFE SYSTEM TO VERIFY THE LOCATIONS OF THEIR RESPECTIVE UTILITIES. ALSO, THE INSTALLING CONTRACTOR SHALL BE RESPONSIBLE FOR REPAIRING OR REPLACING ANY TRAFFIC SIGNAL LOOPS DAMAGED DURING THE INSTALLATION OF THE NEW COMCAST UNDERGROUND CONDUITS AND STRUCTURES.
5. PRIOR TO THE START OF CONSTRUCTION, THE UTILITY CONTRACTOR SHALL CONFIRM THE NUMBER OF CONDUITS AND SIZE OF THE CONDUITS AND VAULTS FOR THIS PROJECT WITH THE COMCAST PROJECT COORDINATOR.
6. THESE PLANS WERE PREPARED FOR PERMITTING PURPOSES WITH THE CITY OF MEDFORD, MA. AFTER ALL UTILITY LINES HAVE BEEN MARKED OUT IN THE FIELD THE LOCATIONS OF THE PROPOSED COMCAST UNDERGROUND CONDUIT AND VAULTS MAY BE ADJUSTED TO FIT WITH THE EXISTING UTILITIES IN THE FIELD. ANY CHANGES TO THE PROPOSED CONDUIT LOCATION SHALL BE APPROVED BY THE CITY OF MEDFORD ENGINEERING DIVISION.
7. ALL WORK TO BE PERFORMED IS FOR THE INSTALLATION OF THE NEW COMCAST UNDERGROUND CONDUIT AND VAULTS.
8. ALL WORK SHALL CONFORM TO THE APPROVING AUTHORITIES ENGINEERING AND DPW STANDARDS.
9. UPON COMPLETION OF THE TRENCH WORK FOR THE DAY, THE CONTRACTOR SHALL BACKFILL, COMPACT AND PAVE THE TRENCH IN ALL ROADWAY AND SIDEWALK AREAS AND THE WORK AREA SHALL BE BROOM SWEPT CLEAN. IN GRASSED AREAS THE TRENCH SHALL BE LOAMED, SEEDED AND HAY MULCH SPREAD TO KEEP THE AREA STABILIZED UNTIL THE GRASS HAS TAKEN HOLD.
10. ALL CONCRETE/HOT MIX ASPHALT SIDEWALKS DISTURBED OR DAMAGED BY THE PLACEMENT OF THE COMCAST UNDERGROUND CONDUIT AND VAULTS SHALL BE REPAIRED/REPLACED IN KIND IN ACCORDANCE WITH THE CITY OF MEDFORD STANDARDS AND REQUIREMENTS. ALL CURBING, SIGNAGE, ROAD AND PARKING STRIPPING AND TRAFFIC SIGNAL CONDUITS, WIRING OR DETECTION LOOPS DISTURBED DURING THE PLACEMENT OF THE COMCAST UNDERGROUND CONDUIT AND VAULTS SHALL BE RESTORED/REPLACED TO THEIR ORIGINAL CONDITION BY THE UTILITY CONTRACTOR. ALL PROPERTY AND STREET LINE BOUNDS AND MARKERS EXPECTED TO BE DAMAGED OR DISTURBED BY THE PLACEMENT OF THE COMCAST UNDERGROUND CONDUIT SHALL BE LOCATED AND TIED IN BY A MASSACHUSETTS REGISTERED PROFESSIONAL LAND SURVEYOR PRIOR TO THE WORK AND SHALL BE REPLACED BY THE LAND SURVEYOR AS PART OF THE PROJECT.
11. STREET/PROPERTY LINES ARE NOT THE RESULT OF A BOUNDARY SURVEY AND ARE CONSIDERED TO BE APPROXIMATE. ALL EASEMENTS SHOWN HEREON WERE TAKEN FROM VARIOUS PLANS BY OTHERS AND ARE NOT THE RESULT OF A TITLE SEARCH.
12. THE CONTRACTOR SHALL OBTAIN A STREET OPENING PERMIT PRIOR TO ANY CONSTRUCTION WITH THE CITY OF MEDFORD RIGHT-OF-WAY.

CONSTRUCTION NOTES:

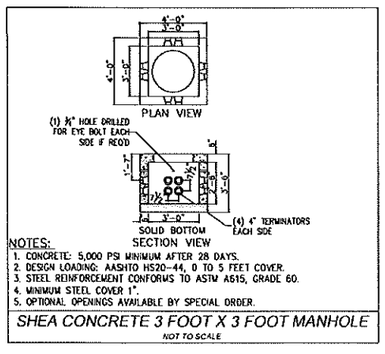
1. FOLLOWING THE DIG-SAFE 'MARK-OUT' AND FIELD VERIFICATION OF THE EXISTING UNDERGROUND UTILITIES, THE PROPOSED COMCAST CONDUIT SHALL BE ADJUSTED IN THE FIELD BY THE UTILITY CONTRACTOR TO AVOID BEING LOCATED OVER ANY EXISTING UTILITIES AND APPROVED BY THE CITY OF MEDFORD ENGINEERING DIVISION
2. THE CONTRACTOR SHALL PERFORM FIELD TEST PITS AT ALL CRITICAL LOCATIONS, POTENTIAL CONFLICT POINTS, AND AT ALL PROPOSED VAULT LOCATIONS PRIOR TO ORDERING ANY MATERIALS OR COMMENCING WITH CONDUIT INSTALLATION. THE PRIMARY PURPOSE OF THESE TEST PITS IS TO VERIFY EXCAVATION DEPTHS, CONFIRM THE PRECISE LOCATION OF EXISTING UTILITIES, AND TO ENSURE THAT ALL PROPOSED CONDUITS AND VAULTS WILL FIT ENTIRELY WITHIN THE PUBLIC RIGHT OF WAY (ROW) WITHOUT ENCROACHING ON PRIVATE PROPERTY.

LEGEND

CB	CATCH BASIN	G	GAS LINE
LP	LIGHT POLE	W	WATER LINE
WG	WATER GATE	T	TELEPHONE LINE
	FIRE HYDRANT	E	ELECTRIC CONDUIT
	MANHOLE	S	SEWER LINE
	TELEPHONE MANHOLE	D	DRAIN LINE
	ELECTRIC MANHOLE	C	CATV LINE
EHH	ELECTRIC HAND HOLE		APPROX. P.L.
	SEWER MANHOLE		PROPOSED COMCAST UNDERGROUND CONDUIT
	DRAIN MANHOLE	DYL	DBL YELLOW LINE
VGC	VERTICAL GRANITE CURB	SYL	SINGLE YELLOW LINE
PCC	PRECAST CONCRETE CURB	SWL	SINGLE WHITE LINE
	UTILITY POLE	DWL	DASHED WHITE LINE
	SIGN		STEEL BOLLARD
15"DT	DECIDUOUS TREE		PARKING METER POST (NO METER)
		PM	PARKING METER
		TB	TRASH BARREL

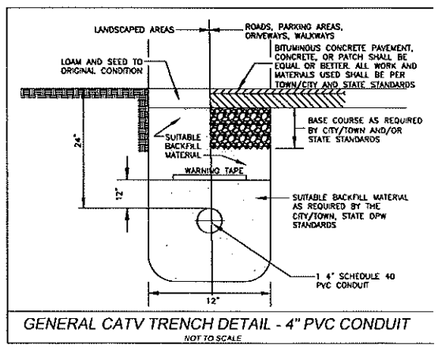


EAST JORDAN IRON WORKS - MANHOLE FRAME & COVER DETAIL
NOT TO SCALE
CONTACT: 800-626-4653 ejiw.com

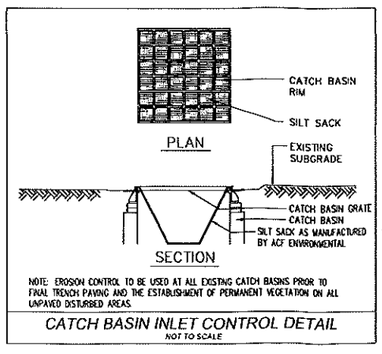


NOTES:
1. CONCRETE: 5,000 PSI MINIMUM AFTER 28 DAYS.
2. DESIGN LOADING: AASHTO HS20-44, D TO 5 FEET COVER.
3. STEEL REINFORCEMENT CONFORMS TO ASTM A615, GRADE 60.
4. MINIMUM STEEL COVER 1".
5. OPTIONAL OPENINGS AVAILABLE BY SPECIAL ORDER.

SHEA CONCRETE 3 FOOT X 3 FOOT MANHOLE
NOT TO SCALE



GENERAL CATV TRENCH DETAIL - 4" PVC CONDUIT
NOT TO SCALE



NOTE: EROSION CONTROL TO BE USED AT ALL EXISTING CATCH BASINS PRIOR TO FINAL TRENCH PAVING AND THE ESTABLISHMENT OF PERMANENT VEGETATION ON ALL UNPAVED DISTURBED AREAS.

CATCH BASIN INLET CONTROL DETAIL
NOT TO SCALE

DETAIL NOTES:

1. THE DETAILS DEPICTED ARE FOR GENERAL REFERENCE ONLY. THE FINAL PRODUCT USED SHALL BE THE RESPONSIBILITY OF THE GENERAL CONTRACTOR AND SHALL BE OF EQUAL OR GREATER MATERIAL THAN THAT DEPICTED AND SHALL CONFORM TO THE ENGINEERING/DPW STANDARDS FOR THE CITY/TOWN AND/OR STATE WHERE THE PROJECT IS LOCATED.

811 DigSafe.com MA-ME-NH RI-VT

RICHARD GEORGE DUTTY CIVIL No. 39490 REGISTERED PROFESSIONAL ENGINEER

THIS PLAN IS DRAWN ON 24" X 36" PAPER.

WARD 8, PRECINCT 1

PROPOSED COMCAST UNDERGROUND

MIDDLESEX COUNTY

PLAN OF LAND IN MEDFORD, MA

Prepared for	COMCAST 8 FORBES ROAD SUITE 88 WOBURN, MA 01801
Prepared By	DEWSNAP ENGINEERING ASSOC LLP 170 Locust Avenue Suite MA 01826 Tel # (781) 233-0598
Date	October 8, 2025
Scale	As Shown
Checked By	P.A.D R.G.C
Drawn By	W.A.J
Field By	P.A.D & R.H
Sheet No.	1 of 1
PROJECT LOCATION	RIVERSIDE AVENUE & E. TRANSIT WAY